UAV Flight Analysis Report

Efficient Flight Profile

Report Generated: 2026-03-21 19:42:57

Flight Profile: Efficient

Data Source: flight_efficient_2026-03-21_19-30-44.csv

Flight Duration: 11.7 minutes

Executive Summary

This report presents a comprehensive analysis of an autonomous UAV inspection flight covering 1368 meters over 11.7 minutes. The mission utilized a Efficient flight profile with a maximum speed of 6.2 m/s, completing 24 waypoints while consuming 44% battery capacity. The flight maintained an average altitude of 14.3m with high precision positioning throughout the mission.

Key Performance Indicators

Metric	Value	Rating
Mission Completion	100%	✓ Excellent
Battery Efficiency	3.75%/min	✓ Good
Flight Stability	148 events	■ Moderate
Altitude Precision	±0.89m	✓ Excellent

Detailed Flight Statistics

Category	Metric	Value	Unit
Mission	Total Duration	11.7	minutes
	Total Distance	1367.6	meters
	Waypoints	24	points
Speed	Maximum	6.17	m/s
	Average	1.94	m/s
	Median	0.08	m/s
Altitude	Maximum	15.21	meters
	Average	14.32	meters
	Minimum	-0.07	meters
Battery	Starting Level	95	%
	Ending Level	51	%
	Total Used	44	%
	Consumption Rate	3.75	%/min
Performance	High Accel Events	148	events
	Peak Acceleration	9.56	m/s^2

Flight Visualizations

2D Flight Path (Top-Down View)

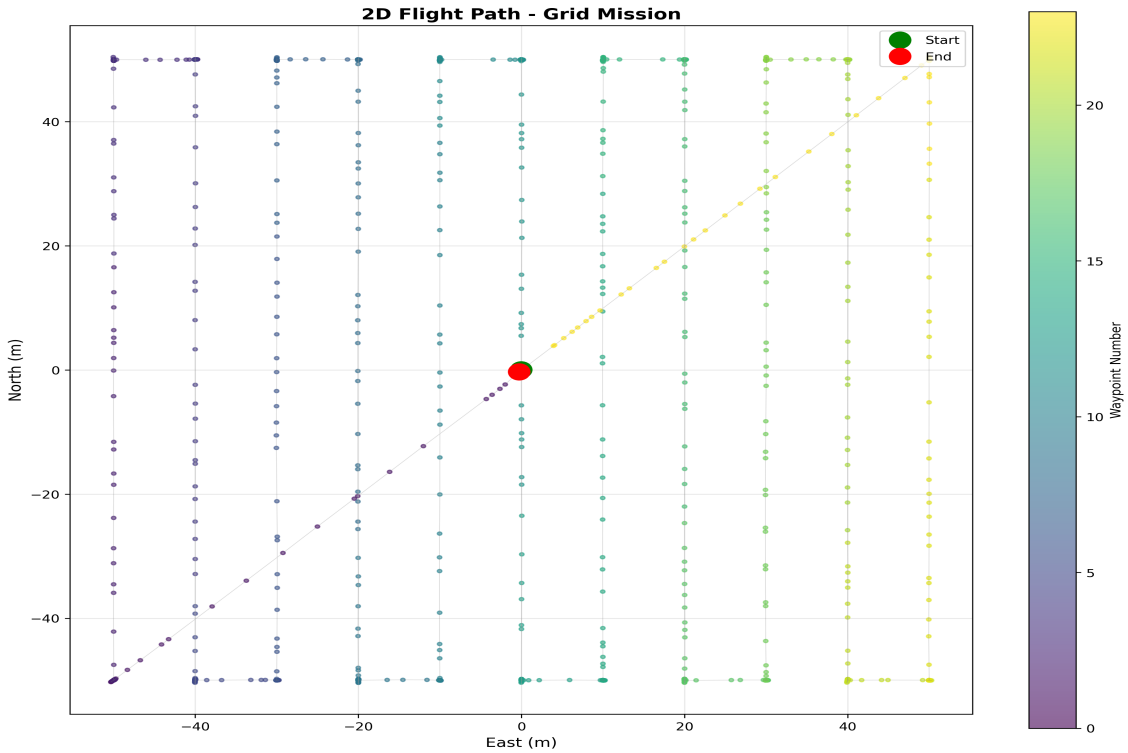

Speed Profile Over Time

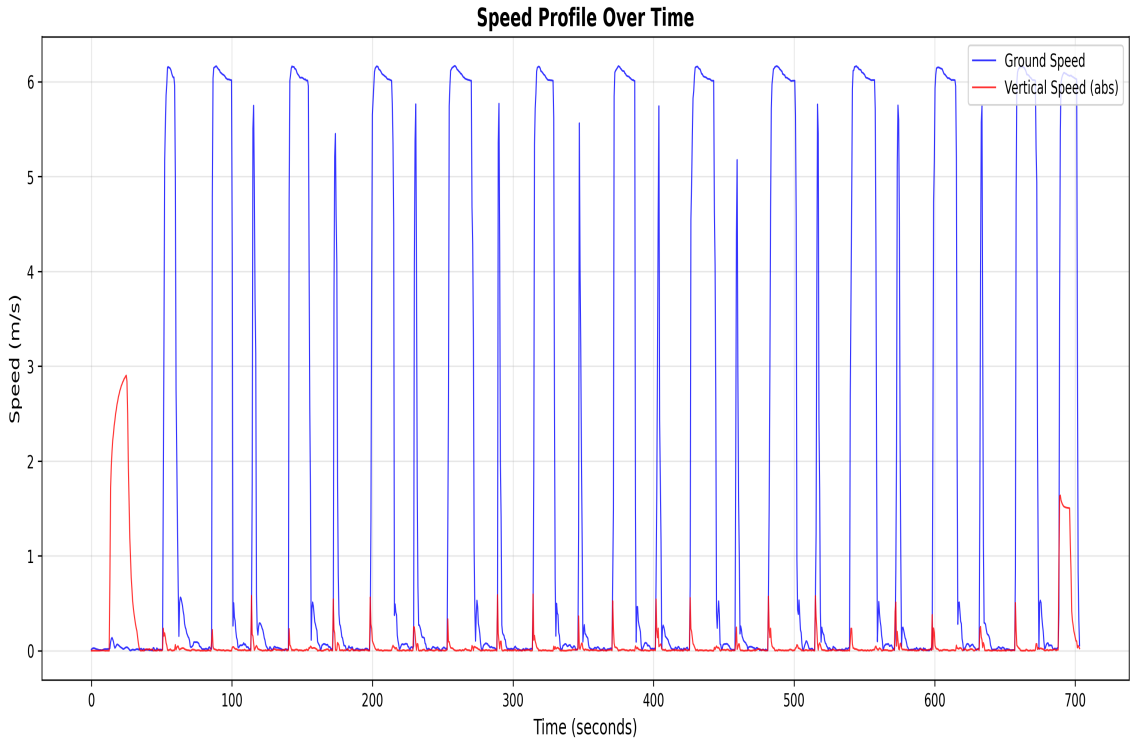

Altitude Profile

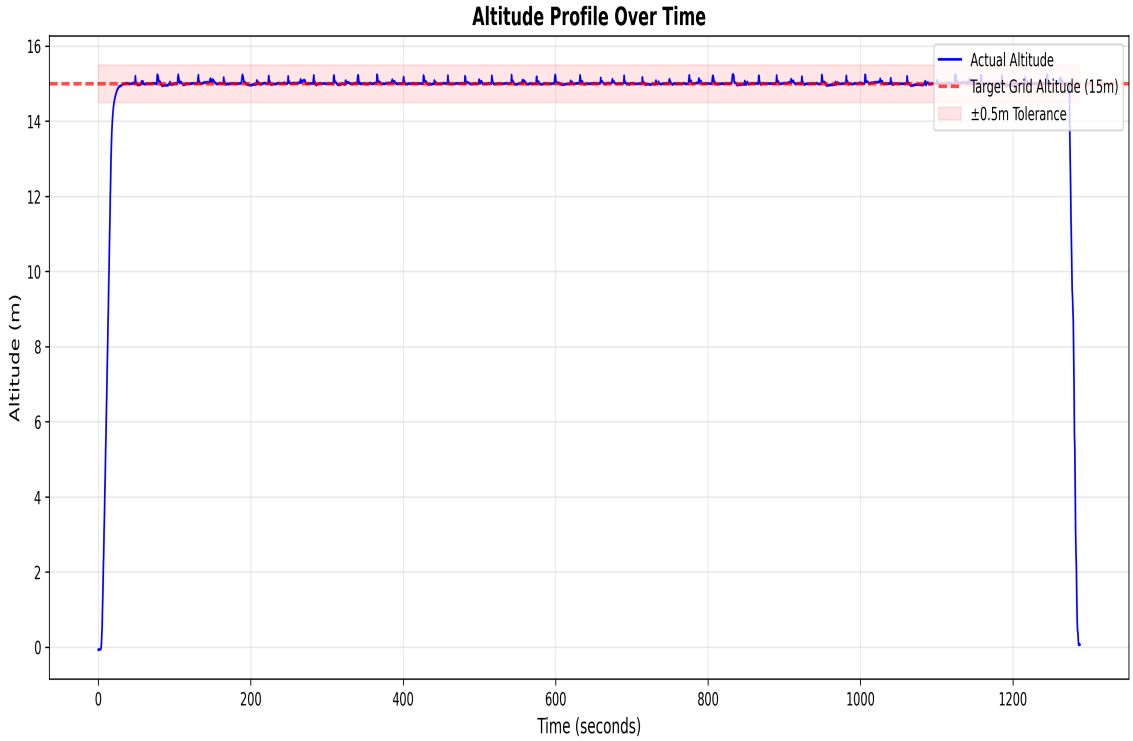

Recommendations

- Mission uses significant battery - plan for recharging between flights
- Estimated 1.1 missions possible per battery (50% usable capacity)